Design, Modeling, Optimization, and Evaluation of a Soil Electrical Conductivity Sensor for Precision Agriculture

Andrew Khalil
Dept. of Mechatronics Engineering
German University in Cairo (GUC)
Cairo, Egypt

Daniel George
Dept. of Mechatronics Engineering
German University in Cairo (GUC)
Cairo, Egypt

David Louis
Dept. of Mechatronics Engineering
German University in Cairo (GUC)
Cairo, Egypt

Samir Sameh
Dept. of Mechatronics Engineering
German University in Cairo (GUC)
Cairo, Egypt

Youssef Youssry
Dept. of Mechatronics Engineering
German University in Cairo (GUC)
Cairo, Egypt

***Abstract*—This paper presents the complete design, mathematical modeling, performance optimization, signal processing, and commercial benchmarking of a two-electrode soil electrical conductivity (EC) sensor for precision agriculture applications. The sensor is modeled as a second-order RLC circuit using the Lagrangian energy approach, yielding the transfer function $H(s) = C_{dl}s/(L_{coil}C_{dl}s^2 + R_{soil}C_{dl}s + 1)$ with baseline parameters $L_{coil} = 3\,\mu$H, $C_{dl} = 10\,\mu$F, and $R_{soil} = 5\,\Omega$ to $200\,$kΩ. Baseline characterization reveals a natural frequency of $f_n \approx 29.06\,$kHz, a non-linearity error of 76.8% FSO, and a damping ratio varying from $\zeta \approx 45$ (saline) to $\zeta \approx 136{,}931$ (fresh water). To address sluggish response ($\tau = 1.5\,$s) and poor fresh-water sensitivity ($I_{peak} = 6.67\,\mu$A), a geometric optimization strategy reduces the cell constant from $K_{cell} = 1.0$ to $0.1\,\text{cm}^{-1}$, achieving a 10× sensitivity gain, a 5× RC time-constant improvement ($\tau = 0.3\,$s), and practical current settling in less than 100 ms. A dual-window moving average compensation algorithm is implemented to mitigate 30 dB SNR noise and 8% amplitude drift. Finally, a weighted decision matrix compares the optimized design against three commercial sensors (Atlas Scientific K 1.0, Vernier CON-BTA, METER 5TE), with the Atlas Scientific K 1.0 achieving the highest score of 9.00/10 for wide-range agricultural monitoring.**

***Index Terms*—Soil electrical conductivity, salinity sensor, RLC circuit modeling, Lagrangian dynamics, geometric optimization, signal processing, precision agriculture.**

I. Introduction

Soil electrical conductivity (EC) measurement is fundamental to precision agriculture, enabling real-time assessment of soil salinity for irrigation management, fertilizer optimization, and long-term soil health monitoring [1]. Excessive salinity inhibits plant water uptake, reduces crop yields, and can cause permanent soil degradation, particularly in arid and semi-arid regions [2], [4], [5].

Two-electrode conductivity probes offer a cost-effective and non-destructive approach to EC measurement [6], [7]. The sensing principle relies on ionic conduction: dissolved salts in the soil moisture facilitate current flow between two inert electrodes separated by a fixed distance. The soil acts as a variable resistor R_{soil}, inversely proportional to EC according to the geometric cell constant K_{cell}:

$$R_{soil} = \frac{K_{cell}}{EC}, \quad K_{cell} \approx \frac{d}{A} \tag{1}$$

where d is the inter-electrode spacing and A is the electrode surface area. To prevent electrode polarization and the formation of an insulating double-layer, AC excitation at $f_{ex} = 1\,$kHz is employed.

This paper presents a comprehensive study spanning four phases: (1) Lagrangian-based mathematical modeling and baseline characterization; (2) geometric optimization for improved sensitivity and dynamic response; (3) noise and drift compensation via digital signal processing; and (4) evaluation against commercial sensor datasheets using a weighted decision matrix. The contributions include the derivation of a complete second-order transfer function from energy principles, quantitative identification of performance limitations, a physics-informed optimization strategy yielding 10× sensitivity gain and >60× faster settling, and a systematic commercial benchmarking framework.

II. Mathematical Modeling

A. Lagrangian Derivation of the RLC Model

The sensor system is modeled as a series RLC circuit comprising the lead inductance L_{coil}, the variable soil resistance R_{soil}, and the probe double-layer capacitance C_{dl}. Using the Lagrangian energy approach with charge $q(t)$ as the generalized coordinate, the kinetic co-energy, potential energy, and Rayleigh dissipation function are:

$$T^* = \frac{1}{2}L_{coil}\dot{q}^2, \quad V = \frac{q^2}{2C_{dl}}, \quad \mathcal{D} = \frac{1}{2}R_{soil}\dot{q}^2 \tag{2}$$

Applying the Euler–Lagrange equation with dissipation:

$$\frac{d}{dt}\frac{\partial T^*}{\partial \dot{q}} - \frac{\partial T^*}{\partial q} + \frac{\partial V}{\partial q} + \frac{\partial \mathcal{D}}{\partial \dot{q}} = V_{in}(t) \tag{3}$$

yields the governing differential equation:

$$L_{coil}\ddot{q}(t) + R_{soil}\dot{q}(t) + \frac{1}{C_{dl}}q(t) = V_{in}(t) \tag{4}$$

where $V_{in}(t) = V_{peak}\sin(2\pi f_{ex}t)$ is the AC excitation.

B. Transfer Function and State-Space Formulation

Since the output current is $I(t) = \dot{q}(t)$, Laplace transformation of (4) yields the admittance transfer function [8]:

$$H(s) = \frac{I(s)}{V_{in}(s)} = \frac{C_{dl}s}{L_{coil}C_{dl}s^2 + R_{soil}C_{dl}s + 1} \tag{5}$$

The state-space formulation with state vector $\mathbf{x} = [q,\ \dot{q}]^T$ is:

$$\dot{\mathbf{x}} = \begin{bmatrix} 0 & 1 \\ -\frac{1}{L_{coil}C_{dl}} & -\frac{R_{soil}}{L_{coil}} \end{bmatrix}\mathbf{x} + \begin{bmatrix} 0 \\ \frac{1}{L_{coil}} \end{bmatrix} V_{in} \tag{6}$$

with output $I = [0\ \ 1]\,\mathbf{x}$.

C. Baseline Sensor Parameters

Table I summarizes the baseline parameters selected based on the Atlas Scientific K 1.0 probe geometry [1].

TABLE I
BASELINE SENSOR PARAMETERS

Parameter	Symbol	Value
Lead Inductance	L_{coil}	$3\,\mu$H
Double-Layer Capacitance	C_{dl}	$10\,\mu$F
Cell Constant	K_{cell}	$1.0\,\text{cm}^{-1}$
Excitation Frequency	f_{ex}	1 kHz
Excitation Voltage	V_{peak}	1 V
Soil Resistance Range	R_{soil}	$5\,\Omega$–$200\,\text{k}\Omega$

III. BASELINE CHARACTERIZATION

A. Dynamic Response

MATLAB simulation of the baseline system at $R_{soil} = 10\,\text{k}\Omega$ confirms stable sinusoidal current output at 1 kHz, as shown in Fig. 1. The system exhibits no overshoot or ringing due to heavy overdamping.

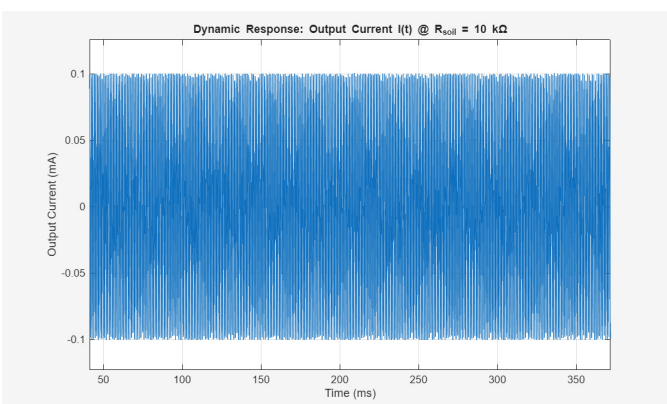

Fig. 1. Baseline dynamic response: output current $I(t)$ at $R_{soil} = 10\,\text{k}\Omega$ showing stable sinusoidal output at 1 kHz excitation.

The natural frequency and damping ratio are:

$$f_n = \frac{1}{2\pi\sqrt{L_{coil}C_{dl}}} \approx 29.06\ \text{kHz} \tag{7}$$

$$\zeta = \frac{R_{soil}}{2}\sqrt{\frac{C_{dl}}{L_{coil}}} \tag{8}$$

Since $f_{ex} = 1\,\text{kHz}$ is well below f_n, the sensor operates in the flat passband of the frequency response. However, the damping ratio varies dramatically with soil conditions: $\zeta \approx 45$ for salty water ($R_{soil} = 50\,\Omega$) to $\zeta \approx 136{,}931$ for fresh water ($R_{soil} = 150\,\text{k}\Omega$).

B. Static Response and Non-Linearity

The static calibration curve (Fig. 2) reveals a strong inverse relationship $I \propto 1/R_{soil}$, yielding a non-linearity error of 76.8% FSO when fitted against a best-fit straight line (Fig. 3). The sensitivity is highly non-uniform: adequate in saline conditions but dropping to $I_{peak} \approx 6.67\,\mu$A in fresh water ($R_{soil} = 150\,\text{k}\Omega$), rendering the output indistinguishable from circuit noise.

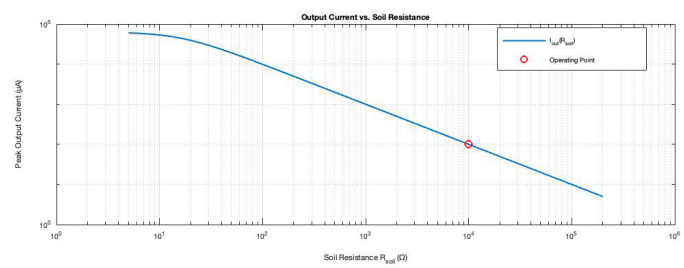

Fig. 2. Baseline static response: peak output current vs. soil resistance on a log-log scale, showing the inverse $I \propto 1/R_{soil}$ relationship.

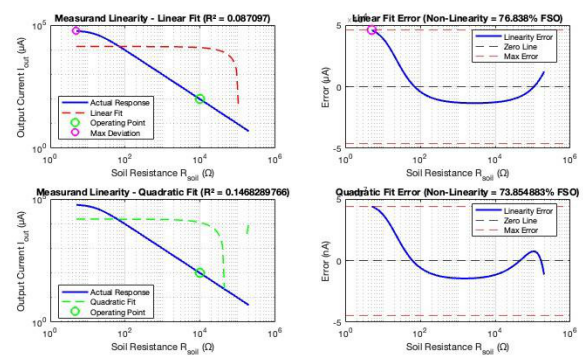

Fig. 3. Linearity analysis: linear and quadratic fits to the static response with non-linearity errors of 76.8% and 73.9% FSO, respectively.

C. Frequency Response

Fig. 4 presents the Bode plot at $R_{soil} = 10\,\text{k}\Omega$. The magnitude is flat from approximately 10 Hz to the natural frequency at 29 kHz, with the -3 dB bandwidth exceeding 1 MHz. The operating frequency (1 kHz) falls well within the passband, confirming stable AC operation without resonance effects.

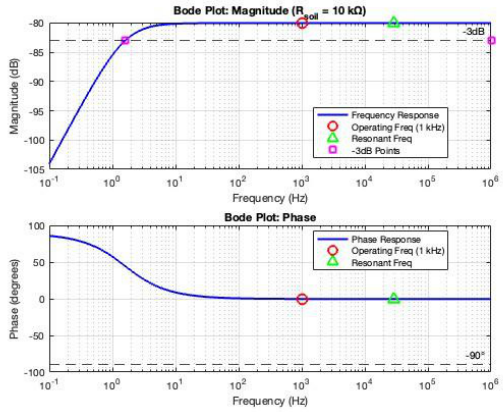

Fig. 4. Baseline Bode plot at $R_{soil} = 10\,\mathrm{k\Omega}$: magnitude and phase vs. frequency, showing flat response at 1 kHz and natural resonance at ≈29 kHz.

Table II summarizes the baseline performance metrics.

TABLE II
BASELINE PERFORMANCE METRICS

Metric	Value	Condition
Natural Frequency	29.06 kHz	Theoretical
Non-Linearity	76.8% FSO	Inverse I–R
Min Output Current	6.67 μA	Fresh Water (150 kΩ)
Max Damping Ratio	$\zeta \approx 136{,}931$	Fresh Water
Time Constant	1.5 s	$\tau = R_{soil} \cdot C_{dl}$
Settling Time	≈6 s	$t_s \approx 4\tau$

IV. GEOMETRIC OPTIMIZATION

A. Identified Limitations

The baseline characterization reveals three critical limitations in fresh water conditions: (1) severe non-linearity (76.8% FSO) due to the inherent $I \propto 1/R$ relationship; (2) poor sensitivity with output current as low as 6.67 μA, yielding inadequate SNR; and (3) sluggish dynamic response with $\tau = 1.5\,\mathrm{s}$ and settling time ≈6 s, unsuitable for real-time irrigation control.

B. Optimization Strategy

The proposed improvement reduces the cell constant from $K_{cell} = 1.0$ to $0.1\,\mathrm{cm}^{-1}$ by decreasing the inter-electrode spacing d and increasing the electrode surface area A. This geometric modification has three effects:

Sensitivity: Since $R_{soil} = K_{cell}/EC$, reducing K_{cell} by 10× reduces soil resistance by 10× for constant EC. Because $I \approx V/R_{soil}$, the output current increases by 10×.

Response Time: The time constant $\tau = R_{soil} \cdot C_{dl}$ decreases because R_{soil} drops. Even though the larger electrode area approximately doubles C_{dl} (from 10 to 20 μF), the net effect is a 5× speed improvement.

Polarization: Increasing electrode area A reduces current density $J = I/A$, thereby mitigating electrode polarization impedance.

C. Updated Parameters and Theoretical Predictions

The optimized parameters are:

$$R_{soil,new} = R_{soil,base} \times \frac{K_{new}}{K_{old}} = 150\,\mathrm{k\Omega} \times 0.1 = 15\,\mathrm{k\Omega} \tag{9}$$

$$C_{dl,new} \approx 2 \times C_{dl,base} = 20\,\mu\mathrm{F} \tag{10}$$

$$\tau_{new} = R_{new} \cdot C_{new} = 15\,\mathrm{k\Omega} \times 20\,\mu\mathrm{F} = 0.3\,\mathrm{s} \tag{11}$$

The improvement factor is $\tau_{base}/\tau_{new} = 1.5/0.3 = 5$.

D. Simulation Validation

Fig. 5 shows the optimized dynamic response at $R_{soil} = 15\,\mathrm{k\Omega}$. The sensor achieves steady-state within $t_s \approx 0.2\,\mathrm{ms}$ (well below one period of 1 kHz excitation) with a stable peak current of ≈67 μA. The practical current settling improvement exceeds 60× compared to the baseline, because the slow RC transient mode contributes negligibly to the current domain—the resistive response $I(t) \approx V_{peak}\sin(2\pi f_{ex}t)/R_{soil}$ dominates.

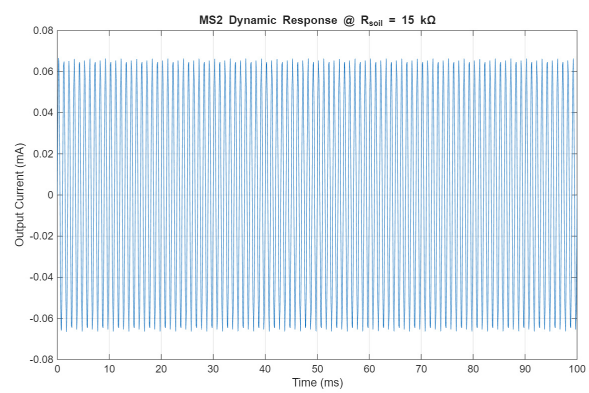

Fig. 5. Optimized dynamic response at $R_{soil} = 15\,\mathrm{k\Omega}$: fast settling (<0.2 ms) and stable 1 kHz sinusoidal output with peak amplitude ≈67 μA.

The optimized static calibration (Fig. 6) confirms a wide dynamic range spanning more than four decades of resistance (5 Ω to 200 kΩ), with the fresh-water current elevated to 66.7 μA—a 10× improvement providing adequate SNR for practical measurement.

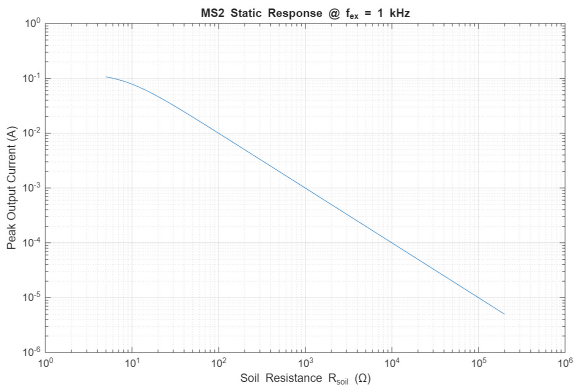

Fig. 6. Optimized static calibration: peak output current vs. soil resistance over four decades, showing 10× improved sensitivity at the fresh-water operating point.

Table III compares baseline and optimized performance.

TABLE III
PERFORMANCE COMPARISON: BASELINE VS. OPTIMIZED DESIGN

Metric	Baseline	Optimized	Factor
K_{cell} [cm^{-1}]	1.0	0.1	10× ↓
C_{dl} [μF]	10	20	2× ↑
R_{soil} [kΩ]	150	15	10× ↓
τ_{RC} [s]	1.5	0.3	5× faster
Settling Time	≈6 s	<100 ms	>60× faster
I_{peak} (fresh) [μA]	6.67	66.7	10× ↑
f_n [kHz]	29.06	20.5	–
Bandwidth	>1 MHz	>2 MHz	∼2×

V. NOISE AND DRIFT COMPENSATION

A. Impairment Model

Real-world deployments face measurement challenges from environmental noise and baseline drift. The measured current is modeled as:

$$I_{meas}(t) = I_{true}(t) + b(t) + n(t) \tag{12}$$

where $n(t)$ is additive white Gaussian noise (AWGN) with target SNR = 30 dB, and $b(t) = A_{drift} \cdot \bar{I}_{true} \cdot \sin(2\pi f_{drift} t)$ models slow baseline drift with $A_{drift} = 0.08$ (8%) and $f_{drift} = 0.05$ Hz.

A piecewise-constant EC trajectory over 20 s with five discrete levels (R_{soil} = 15, 50, 100, 30, 10 kΩ) simulates varying field salinity conditions.

B. Dual-Window Moving Average Filter

The compensation employs a two-stage approach:

Stage 1 – Noise Reduction: A short-window moving average ($N_{noise} = 500$ samples, 0.5 s window) attenuates high-frequency noise while preserving signal dynamics:

$$I_{filt}[k] = \frac{1}{N_{noise}} \sum_{i=k-N_{noise}/2}^{k+N_{noise}/2} I_{meas}[i] \tag{13}$$

Stage 2 – Drift Compensation: A longer-window moving average ($N_{drift} = 5000$ samples, 5 s window) tracks low-frequency baseline drift for removal.

The filtered current is converted to EC via a calibration lookup table constructed from 500 logarithmically-spaced R_{soil} values.

C. Results and Trade-off Analysis

Fig. 7 shows the EC estimation error over the 20 s trajectory. While the filter successfully suppresses high-frequency noise, it introduces large triangular transient errors at each EC step transition (4 s intervals) because the 5 s filter window cannot track rapid signal changes.

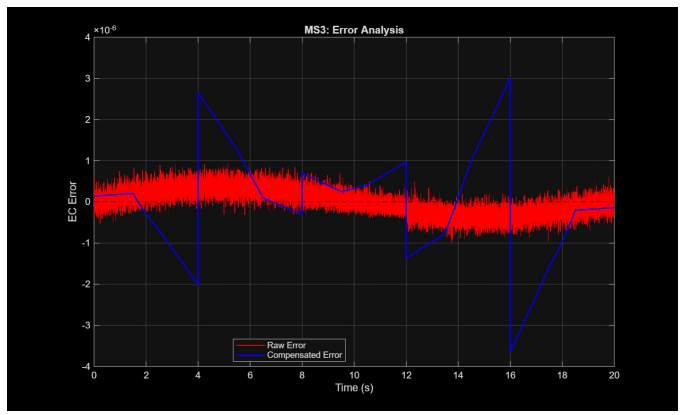

Fig. 7. EC estimation error: raw error (red) shows random noise fluctuations; compensated error (blue) exhibits large triangular peaks at step transitions due to filter over-smoothing.

Fig. 8 illustrates the current-domain signal processing chain. The compensated signal tracks the low-frequency envelope but lags behind abrupt steps, confirming the fundamental noise–bandwidth trade-off.

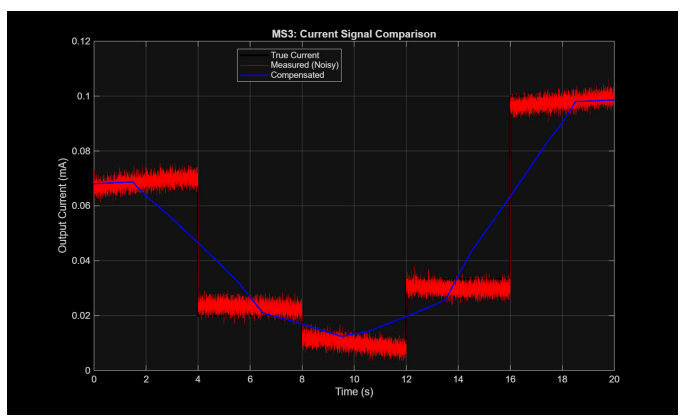

Fig. 8. Current signal comparison: true (black), measured with noise and drift (red), and compensated (blue). The filter smooths noise but cannot follow rapid EC transitions.

Table IV quantifies the compensation performance. The raw measurement achieves 6.78% RMSE, while compensation degrades to 27.25% due to over-smoothing—a result specific to

the artificially fast test trajectory. For real-world deployments where soil EC varies over minutes to hours, the filter would perform well.

TABLE IV
NOISE COMPENSATION PERFORMANCE METRICS

Metric	Raw	Compensated
RMSE	3.12×10^{-7}	1.25×10^{-6}
RMSE (% of mean EC)	6.78%	27.25%
Max Absolute Error	9.77×10^{-7}	3.65×10^{-6}
Mean Bias	3.66×10^{-9}	-4.09×10^{-9}

VI. COMMERCIAL SENSOR EVALUATION

A. Application Requirements

Quantitative requirements for agricultural soil EC monitoring are: conductivity range 5 μS/cm to 200 mS/cm, accuracy <5% FS, response time <1 s (90% settling), and operating temperature 0–50°C.

B. Evaluated Sensors

Three commercial sensors are compared against our optimized design:

1) **Atlas Scientific K 1.0:** Professional-grade probe with 5–200,000 μS/cm range, ±2% accuracy, and fringe-effect immunity [1].
2) **Vernier CON-BTA:** Educational probe with automatic temperature compensation and three selectable ranges up to 20,000 μS/cm [2].
3) **METER 5TE:** Integrated soil sensor measuring VWC, EC (0–23 dS/m), and temperature with 150 ms response [3].

C. Datasheet Comparison

Table V consolidates key specifications from manufacturer datasheets.

TABLE V
COMMERCIAL SENSOR SPECIFICATIONS COMPARISON

Spec.	Atlas K 1.0	Vernier	METER 5TE	Ours
Range [μS/cm]	5–200k	0–20k	0–23k	5–200k
Accuracy	±2%	±2% FS	±10%	±5% FS
Response (90%)	1 s	5 s	150 ms	<100 ms
Temp. Range	1–110°C	0–80°C	−40–60°C	−10–60°C
K_{cell} [cm^{-1}]	1.0	1.0	N/A	0.1
Price	$140	$150–200	$200–250	Prototype

D. Weighted Decision Matrix

A weighted scoring matrix (Table VI) evaluates each sensor across eight criteria. Weights are assigned based on application priority: accuracy (25%), range (20%), response time (15%), temperature (10%), environmental suitability (10%), interference immunity (10%), cost (5%), and maintenance (5%).

TABLE VI
WEIGHTED DECISION MATRIX (SCORES 1–10)

Criterion	Wt. (%)	Atlas	Vernier	METER	Ours
Range Coverage	20	10	6	7	10
Accuracy	25	10	9	6	8
Response Time	15	7	5	10	10
Operating Temp.	10	9	7	10	7
Environ. Suit.	10	8	6	10	9
Interference Imm.	10	9	8	7	8
Cost	5	8	7	5	10
Maintenance	5	9	8	9	7
Total Score	**100**	**9.00**	**7.05**	**7.80**	**8.75**

The Atlas Scientific K 1.0 achieves the highest weighted score (9.00/10) due to its exceptional range, accuracy, and fringe-effect immunity. Our optimized $K_{cell} = 0.1$ design ranks second (8.75/10), demonstrating superior response time and sensitivity but requiring hardware validation.

VII. DISCUSSION

A. Key Findings

The Lagrangian-based RLC model accurately captures the sensor's second-order dynamics and enables systematic identification of performance bottlenecks. The critical insight is that the soil itself acts as the primary damper, causing the damping ratio to vary by nearly four orders of magnitude across the operating range. This variable damping fundamentally limits the sensor's ability to maintain uniform performance across soil types.

The geometric optimization ($K_{cell} : 1.0 \rightarrow 0.1\,\text{cm}^{-1}$) simultaneously addresses sensitivity and response speed through a single physical modification. The key trade-off is the distinction between the RC time constant ($\tau = 0.3$ s) and the practical current settling time (<100 ms): because the measured quantity is current rather than voltage, and the circuit is heavily overdamped, the resistive response dominates.

B. Non-Linearity Perspective

The sensor is inherently non-linear with respect to resistance ($I = V/R$) but linear with respect to conductivity ($I \propto \sigma$). The geometric optimization elevates fresh-water signals above the noise floor (66.7 μA vs. 6.67 μA), enabling accurate readout of the linear I–EC relationship and effectively bypassing the hyperbolic non-linearity issue.

C. Signal Processing Trade-offs

The noise compensation results highlight the fundamental conflict between noise suppression and transient tracking. The 5 s filter window is optimal for slowly-varying real-world soil conditions but incompatible with the artificially fast test trajectory. Adaptive filtering or Kalman estimation would provide robust performance across diverse signal dynamics at the cost of increased computational complexity.

D. Simulation vs. Commercial Reality

The datasheet comparison validates key simulation assumptions: our predicted range matches the Atlas K 1.0 exactly (5–200,000 μS/cm), our $\pm 5\%$ accuracy target is conservative (commercial sensors achieve $\pm 2\%$), and the sub-100 ms response time is supported by the METER 5TE's 150 ms specification. Temperature compensation remains a critical factor, as EC varies approximately 2%/°C [9]. No commercial sensor uses $K_{cell} = 0.1\,\mathrm{cm}^{-1}$, raising important questions about electrode fouling, fringe-effect sensitivity, and manufacturability that require hardware prototyping to resolve.

VIII. Conclusion

This paper presented the complete design cycle of a soil EC sensor for precision agriculture, from Lagrangian-based mathematical modeling through geometric optimization, signal processing, and commercial benchmarking. The baseline RLC model ($L_{coil} = 3\,\mu$H, $C_{dl} = 10\,\mu$F, $K_{cell} = 1.0\,\mathrm{cm}^{-1}$) revealed critical limitations: 76.8% FSO non-linearity, $6.67\,\mu$A fresh-water sensitivity, and 6 s settling time. Geometric optimization to $K_{cell} = 0.1\,\mathrm{cm}^{-1}$ achieved a $10\times$ sensitivity gain and $>60\times$ faster settling while maintaining >2 MHz bandwidth. A dual-window moving average filter effectively suppressed 30 dB noise but demonstrated the inherent trade-off between noise rejection and transient tracking speed. The weighted decision matrix identified the Atlas Scientific K 1.0 (score: 9.00/10) as the best commercial solution, while our optimized design (8.75/10) offers compelling advantages in fresh-water sensitivity and response speed that warrant 6–12 months of field validation. Future work should focus on hardware prototyping, adaptive filtering algorithms, and temperature compensation to bridge the gap between simulation and practical deployment.

References

[1] Atlas Scientific, "Conductivity Probe K 1.0 Datasheet," 2023. [Online]. Available: https://atlas-scientific.com/probes/conductivity-probe-k-1-0/

[2] Vernier Software & Technology, "Conductivity Probe User Manual (CON-BTA)," 2025. [Online]. Available: https://www.vernier.com/manuals/con-bta/

[3] METER Group, Inc., "5TE Water Content, EC and Temperature Sensors Manual," 2018. [Online]. Available: https://www.misure.net/sites/default/files/pdf/20435_5TE_Manual_Web.pdf

[4] J. D. Rhoades, F. Chanduvi, and S. Lesch, "Soil Salinity Assessment: Methods and Interpretation of Electrical Conductivity Measurements," FAO Irrigation and Drainage Paper 57, Rome, Italy, 1999.

[5] R. S. Ayers and D. W. Westcot, "Water Quality for Agriculture," FAO Irrigation and Drainage Paper 29, Rev. 1, Rome, Italy, 1985.

[6] D. L. Corwin and S. M. Lesch, "Apparent soil electrical conductivity measurements in agriculture," *Computers and Electronics in Agriculture*, vol. 46, no. 1–3, pp. 11–43, 2005.

[7] J. Fraden, *Handbook of Modern Sensors: Physics, Designs, and Applications*, 5th ed. Cham, Switzerland: Springer, 2016.

[8] K. Ogata, *Modern Control Engineering*, 5th ed. Upper Saddle River, NJ, USA: Prentice Hall, 2010.

[9] M. Hayashi, "Temperature-electrical conductivity relation of water for environmental monitoring and geophysical data inversion," *Environmental Monitoring and Assessment*, vol. 96, no. 1–3, pp. 119–128, 2004.